Filter & Info

Pilih Sumber Data:

Semua

Threshold Alert:
0.30

Info Dataset

Total: 18,349 baris

- plant_vase1: **4,117**
- plant_vase1_2: **3,943**
- plant_vase2: **10,289**

Rentang Tanggal

Mulai: **06/03/2020**

Akhir: **29/03/2020**

Soil Moisture Dashboard

Monitoring Kelembaban Tanah | Sumber: Semua | Total: 18,349 data | Threshold: 0.3

Ringkasan Statistik

MOISTURE0	MOISTURE1	MOISTURE2	MOISTURE3	MOISTURE4
0.338	0.644	0.716	0.573	0.014
Normal	Normal	Normal	Normal	Rendah
min: 0.020 | max: 0.850	min: 0.140 | max: 0.960	min: 0.230 | max: 0.980	min: 0.080 | max: 0.990	min: 0.000 | max: 0.030

Gauge Meter Kelembaban

moisture0

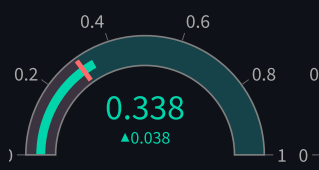

moisture1

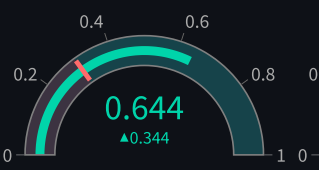

moisture2

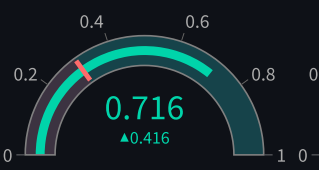

moisture3

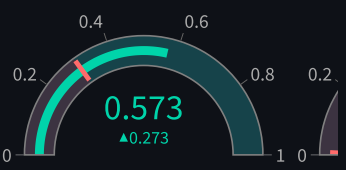

Alert System

moisture0	moisture1	moisture2	moisture3	moisture4
0.338	0.644	0.716	0.573	0.014
NORMAL |	NORMAL |	NORMAL |	NORMAL |	BAHAYA |
Threshold: 0.3	Threshold: 0.3	Threshold: 0.3	Threshold: 0.3	Threshold: 0.3

Time Series Trend

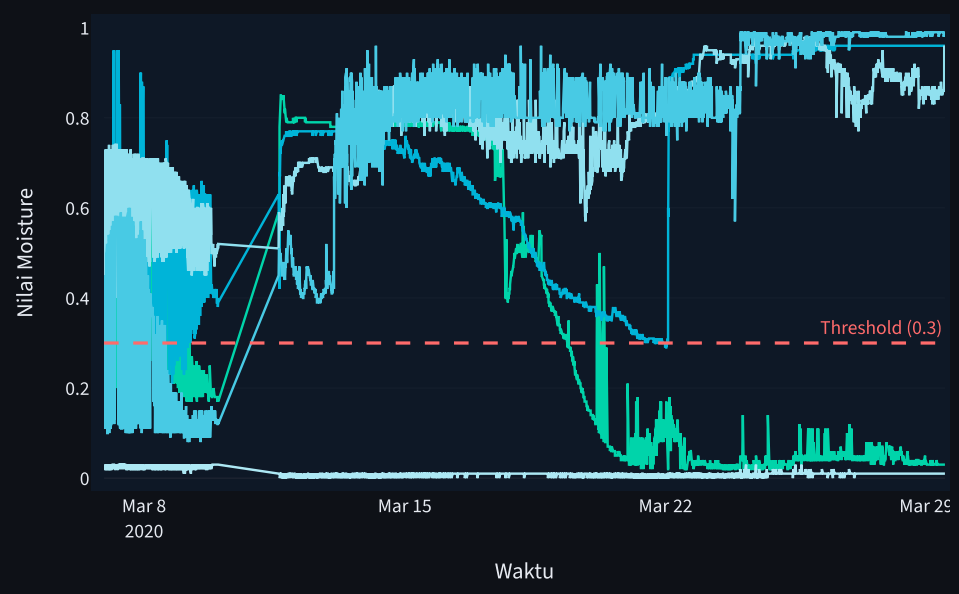

Sensor:

m. × m. × m. × m. × m. ×

Agregasi:

Raw

Correlation Heatmap per Sumber

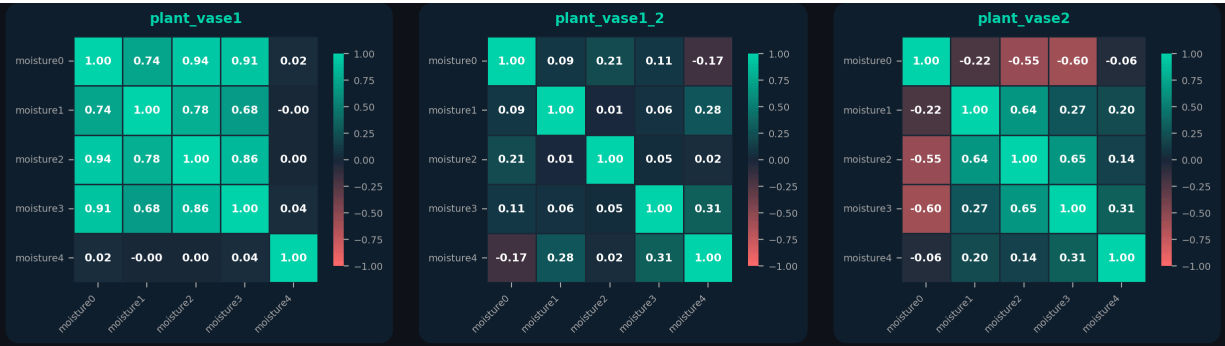

🌱 **Soil Moisture Dashboard** | Data Lifecycle Management 2024 | Built with Streamlit & Plotly